Geodaten © swisstopo (5704000138)

500m

Scale 1:25'000

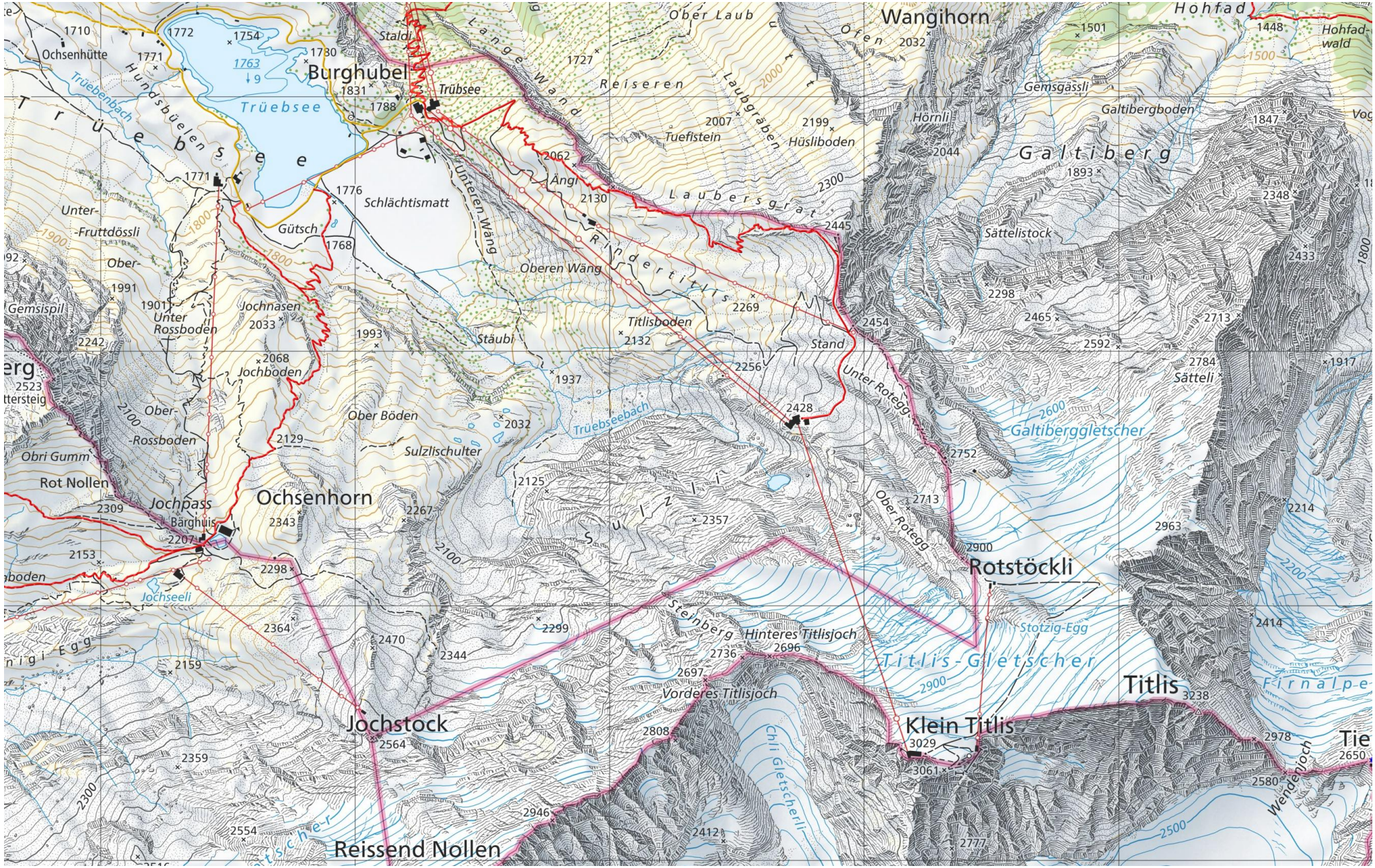

Geodaten © swisstopo (5704000138)

Scale 1:20'000 | 200m

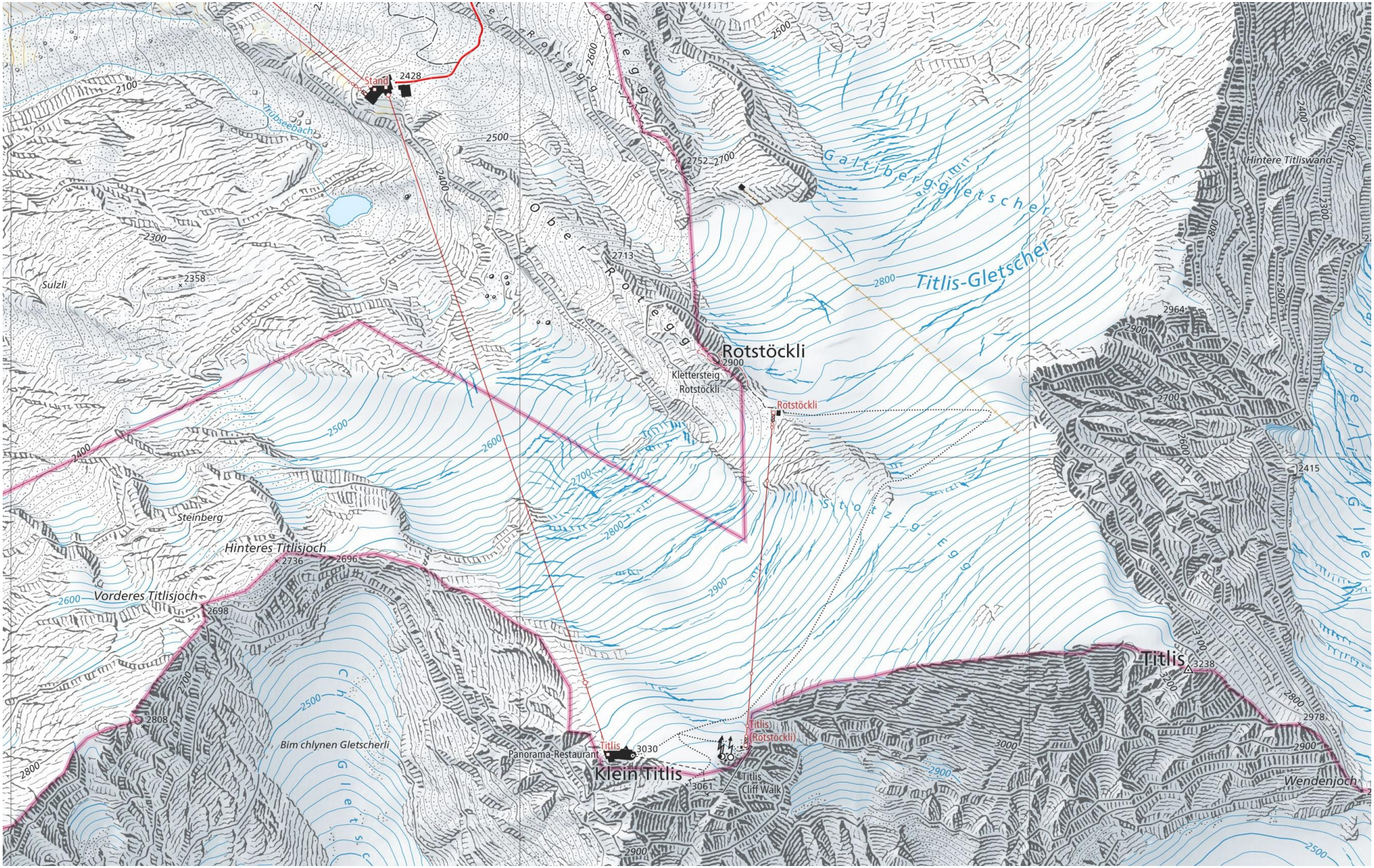

Geodaten © swisstopo (5704000138)

200m

Scale 1:10'000

SwitzerlandMobility partners:

Schweizerische Eidgenossenschaft
Confédération suisse
Confederazione Svizzera
Confederaziun svizra

Swiss hiking trails

Schweizer Alpen-Club SAC
Club Alpin Suisse
Club Alpino Svizzero
Club Alpin Svizzer

Switzerland.

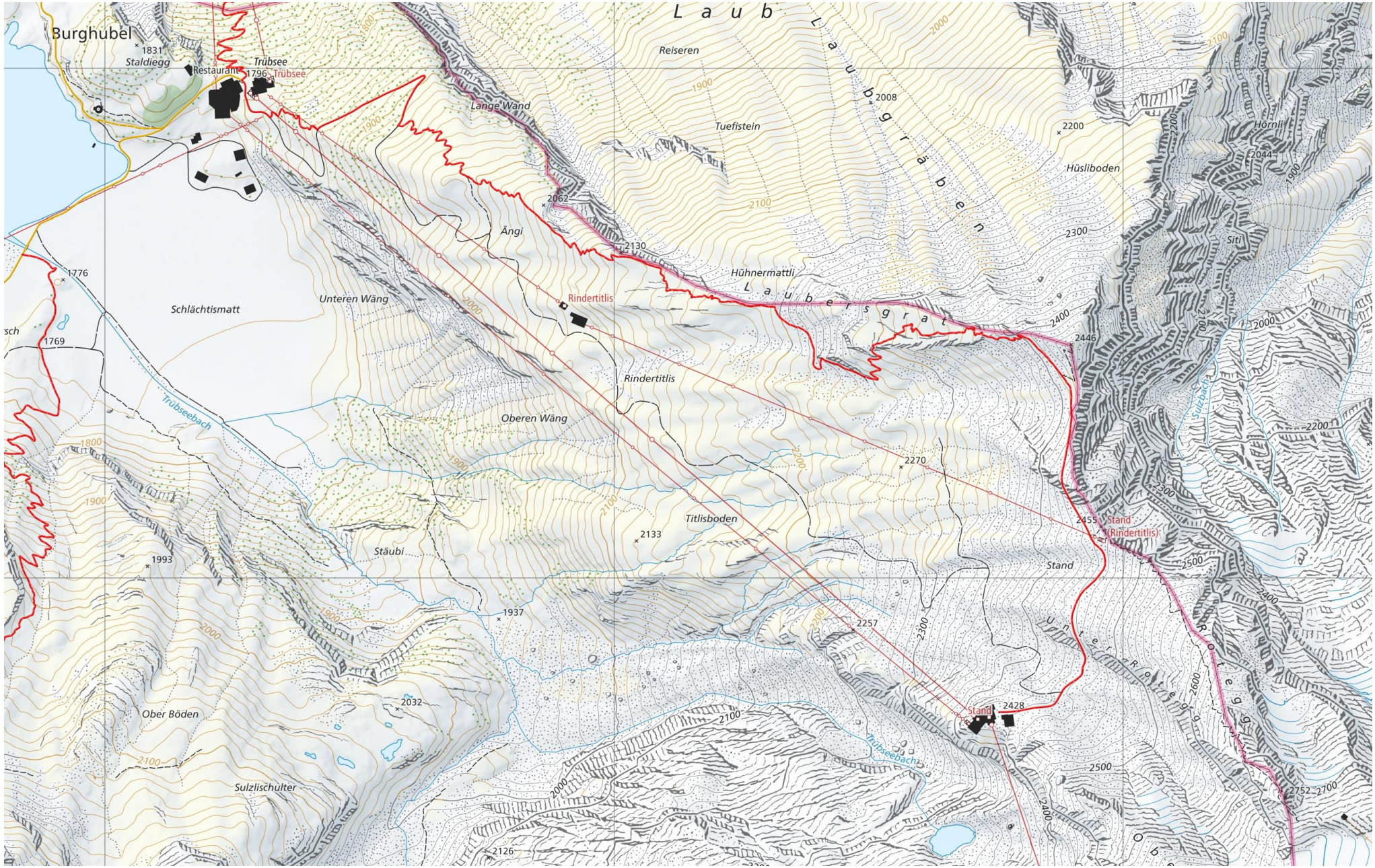
Burghubel
1831
Staldiegg
Restaurant
Trübsee
1796
Trübsee
Lange Wand
Reiseren
Tuefistein
Laub
Laubgräben
2008
2200
Hüsliboden
Hörnli
2044
2062
Ängi
2130
Hühnermattli
Laubersgrat
Siti
1776
Schlächtismatt
Unteren Wäng
Rindertitlis
2446
1769
Rindertitlis
Trübseebach
Oberen Wäng
2270
Titlisboden
2455
Stand
(Rindertitlis)
2133
Stäubi
1993
Stand
1937
2257
Ober Böden
2032
2428
Stand
Trübseebach
Sulzlischulter
2126
2752
Sulzbach
Scale 1:10'000
200m
Geodaten © swisstopo (5704000138)